REPLAT NO. 1 TO KENT COUNTY CONDOMINIUM SUBDIVISION PLAN NO. 982
EXHIBIT "B" TO THE MASTER DEED OF:

43 NORTH

ALGOMA TOWNSHIP, KENT COUNTY, MICHIGAN
SECTION 35, TOWN 9 NORTH, RANGE 11 WEST

ATTENTION COUNTY REGISTER OF DEEDS
THE CONDOMINIUM SUBDIVISION PLAN NUMBER MUST BE ASSIGNED IN CONSECUTIVE SEQUENCE. WHEN A NUMBER HAS BEEN ASSIGNED TO THIS PROJECT IT MUST BE PROPERLY SHOWN ON THE SURVEYORS CERTIFICATE ON THIS SHEET.

DEVELOPER: WOLVEN INVESTMENTS LLC
3115 RAILWAY DRIVE BYRON CENTER, MI 49315

SURVEYOR: ROOSIEN & ASSOCIATES, SURVEYING AND ENGINEERING, P.L.L.C.
5055 PLAINFIELD AVE. N.E. GRAND RAPIDS, MI 49525

DESCRIPTION OF 43 NORTH:

Part of the West 1/2 of the Northwest 1/4 of Section 35, T9N, R11W, Algoma Township, Kent County, Michigan, described as: Commencing at the Northwest corner of said Section; thence N89°52'07"E 849.42 feet along the North line of said Section to the Place of Beginning; thence continuing N89°52'07"E 487.12 feet along the North line of said Section; thence S00°39'11"W 2328.71 feet along the East line of the West 1/2 of the Northwest 1/4 of said Section; thence N89°57'35"W 368.64 feet; thence S35°57'29"W 709.98 feet; thence N89°57'35"W 554.15 feet parallel with the East–West 1/4 line of said Section; thence N00°33'50"E 247.51 feet along the West line of said Section to the West 1/4 corner of said Section; thence N00°35'20"E 260.00 feet along the West line of said Section; thence S89°24'40"E 208.71 feet; thence N00°35'20"E 208.71 feet parallel with the West line of said Section; thence S89°24'40"E 104.29 feet; thence N00°35'20"E 750.00 feet along the East line of the West 313.00 feet of the Northwest 1/4 of said Section; thence N89°24'40"W 32.00 feet; thence N00°35'20"E 1019.55 feet along the East line of the West 281 feet of the Northwest 1/4 of said Section; thence N89°52'07"E 573.65 feet parallel with the North line of said Section; thence N00°07'53"W 417.42 feet to the Place of Beginning. Subject to the road rights of way for 11 Mile Road and Wolven Avenue, over the North and East 33.0 feet thereof. Also subject to the road right of way for Elstner Avenue over the West 33.0 feet thereof. Contains 43 Units and 60.22 acres.

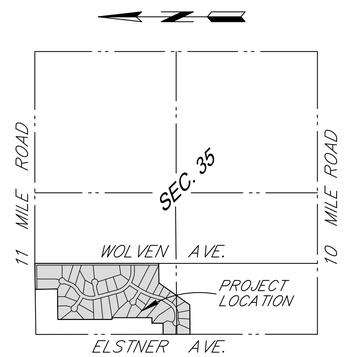

LOCATION MAP
NOT TO SCALE

SURVEYORS CERTIFICATE

I, MICHAEL MANNING, A LICENSED LAND SURVEYOR IN THE STATE OF MICHIGAN HEREBY CERTIFY:

THAT THE SUBDIVISION PLAN KNOWN AS KENT COUNTY CONDOMINIUM SUBDIVISION PLAN NO. 982 AS SHOWN ON THE ACCOMPANYING SURVEY PLAN REPRESENTS A SURVEY ON THE GROUND MADE UNDER MY DIRECTION;

THAT THERE ARE NO EXISTING ENCROACHMENTS UPON THE LAND AND PROPERTY AS DESCRIBED HEREIN;

THAT THE REQUIRED MONUMENTS AND IRON MARKERS HAVE BEEN SET IN THE GROUND AS REQUIRED BY THE RULES PROMULGATED UNDER SECTION 142 OF ACT NO. 59 OF THE PUBLIC ACTS OF 1978 AS AMENDED

THAT THE ACCURACY OF THIS SURVEY IS WITHIN THE LIMITS REQUIRED BY THE RULES PROMULGATED UNDER SECTION 142 OF ACT NO. 59 OF THE PUBLIC ACTS OF 1978 AS AMENDED

THAT THE BASIS OF BEARING IS BASED ON THE NORTH LINE OF SECTION 35 BEING N89°52'07"E – PER THE ALGOMA TOWNSHIP CONTROL DIAGRAM (KENT COUNTY REMONUMENTATION)

Michael Manning — JAN. 20, 2025
AS–BUILT — DATE
MICHAEL MANNING, P.S. NO. 4001051481

THIS CONDOMINIUM SUBDIVISION PLAN IS NOT REQUIRED TO CONTAIN DETAILED PROJECT DESIGN PLANS PREPARED BY THE APPROPRIATE LICENSED DESIGN PROFESSIONAL. SUCH PROJECT DESIGN PLANS ARE FILED, AS PART OF THE CONSTRUCTION PERMIT APPLICATION, WITH THE ENFORCING AGENCY FOR THE STATE CONSTRUCTION CODE IN THE RELEVANT GOVERNMENTAL SUBDIVISION. THE ENFORCING AGENCY MAY BE A LOCAL BUILDING DEPARTMENT OR THE STATE DEPARTMENT OF LICENSING AND REGULATORY AFFAIRS.

THE ASTERISK (*) INDICATES AMENDED OR NEW SHEETS WHICH ARE DATED JAN 20, 2025. THESE SHEETS, TOGETHER WITH THIS SUBMITTAL, REPLACE OR SUPPLEMENT THOSE PREVIOUSLY ISSUED

SHEET INDEX:

* SHEET NO. 1 ..... COVER SHEET
* SHEET NO. 2 ..... SITE AND SURVEY PLAN
* SHEET NO. 3 ..... SITE AND SURVEY PLAN
* SHEET NO. 4 ..... SITE AND SURVEY PLAN
* SHEET NO. 5 ..... UTILITY AND EASEMENT PLAN
* SHEET NO. 6 ..... UTILITY AND EASEMENT PLAN
* SHEET NO. 7 ..... UTILITY AND EASEMENT PLAN
* SHEET NO. 8 ..... EASEMENT ENLARGEMENT PLAN
* SHEET NO. 9 ..... OVERALL SITE PLAN

Roosien & Associates
SURVEYING AND ENGINEERING
5055 PLAINFIELD AVE. NE
GRAND RAPIDS, MI 49525
TELE. (616) 361–7220
FAX (616) 361–1822
FILE# 241151–C1

STATE OF MICHIGAN
MICHAEL MANNING
PROFESSIONAL SURVEYOR
No. 4001051481
LICENSED PROFESSIONAL SURVEYOR

43 NORTH

SITE AND SURVEY PLAN

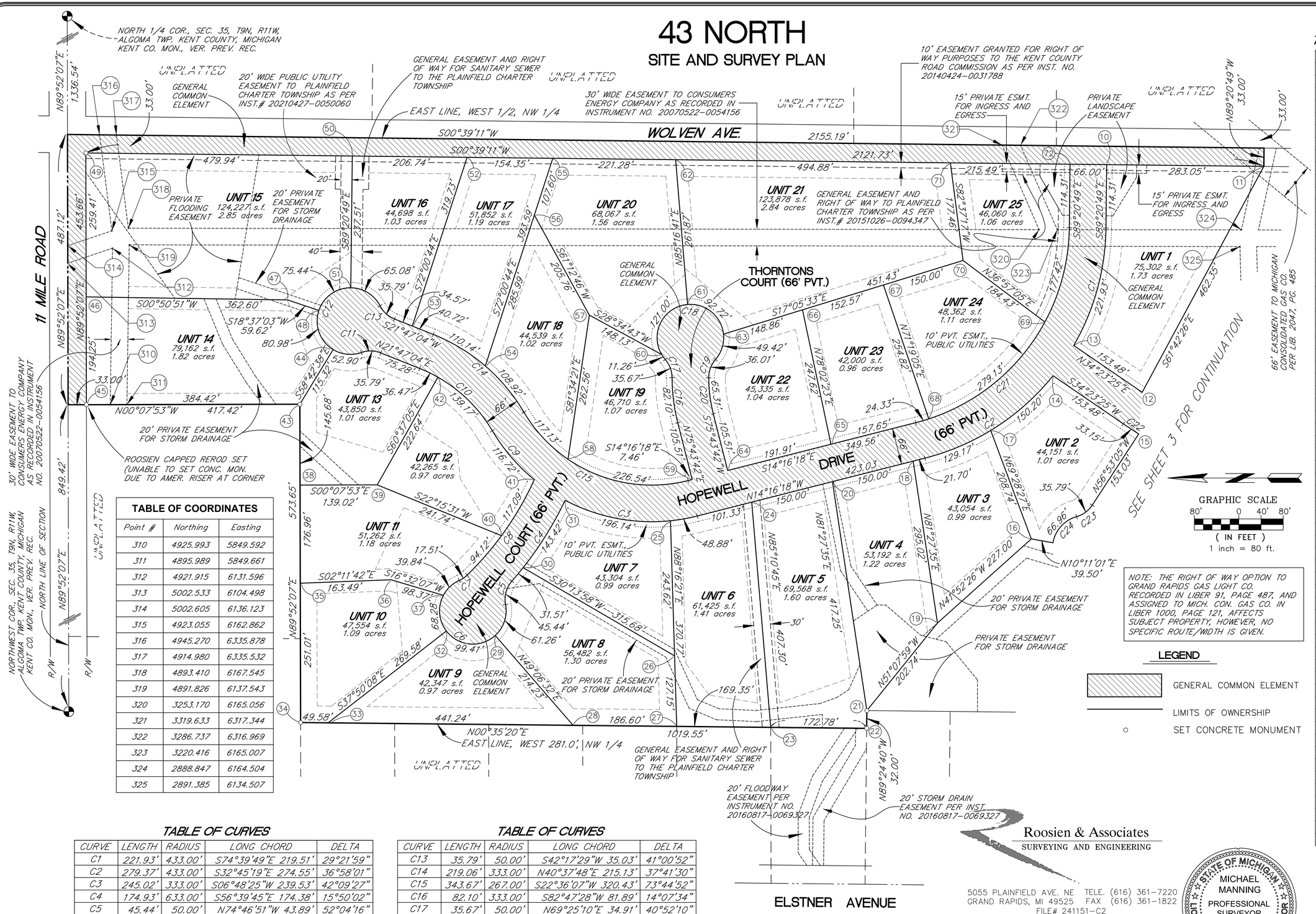

NOTE: THE RIGHT OF WAY OPTION TO GRAND RAPIDS GAS LIGHT CO. RECORDED IN LIBER 91, PAGE 487, AND ASSIGNED TO MICH. CON. GAS CO. IN LIBER 1000, PAGE 121, AFFECTS SUBJECT PROPERTY, HOWEVER, NO SPECIFIC ROUTE/WIDTH IS GIVEN.

LEGEND

- GENERAL COMMON ELEMENT
- LIMITS OF OWNERSHIP
- ○ SET CONCRETE MONUMENT

TABLE OF COORDINATES

PT#	NORTHING	EASTING
10	3131.424	6282.196
11	2848.394	6278.970
12	3067.541	5871.850
13	3190.783	5956.206
14	3228.062	5901.742
15	3073.805	5796.698
16	3267.143	5607.622
17	3340.331	5803.106
18	3479.981	5747.848
19	3436.170	5456.102
20	3625.351	5710.870
21	3563.389	5298.250
22	3563.718	5266.252
23	3736.491	5268.028
24	3770.722	5673.892
25	3917.013	5640.375
26	3909.669	5396.867
27	3905.836	5269.769
28	4092.423	5271.686
29	4232.664	5433.636
30	4182.415	5555.819
31	4106.765	5677.302
32	4320.731	5441.578
33	4533.635	5276.221
34	4583.214	5276.731
35	4583.789	5527.741
36	4420.419	5534.003
37	4326.119	5506.007
38	4584.195	5704.697
39	4445.173	5705.016
40	4221.447	5613.448
41	4162.350	5714.287
42	4335.937	5899.022
43	4584.529	5850.375
44	4524.635	5948.925
45	4968.948	5849.493
46	4969.393	6043.749
47	4606.830	6038.386
48	4550.333	6019.353
49	4969.988	6303.157
50	4490.081	6297.686
51	4492.789	6060.195
52	4283.359	6295.329
53	4382.097	5991.225
54	4250.561	5919.217
55	4129.014	6293.570
56	4162.242	6191.230
57	4063.156	6010.897
58	4101.636	5751.173
59	3877.961	5714.715
60	3933.073	5940.036
61	3886.188	6030.068
62	3907.744	6291.047
63	3821.597	5976.733
64	3813.998	5730.985
65	3628.012	5778.295
66	3679.315	6020.484
67	3533.484	6065.327
68	3451.862	5823.935
69	3242.723	5998.547
70	3390.109	6109.415
71	3412.899	6285.405
72	3197.419	6282.949

TABLE OF COORDINATES

Point #	Northing	Easting
310	4925.993	5849.592
311	4895.989	5849.661
312	4921.915	6131.596
313	5002.533	6104.498
314	5002.605	6136.123
315	4923.055	6162.862
316	4945.270	6335.878
317	4914.980	6335.532
318	4893.410	6167.545
319	4891.826	6137.543
320	3253.170	6165.056
321	3319.633	6317.344
322	3286.737	6316.969
323	3220.416	6165.007
324	2888.847	6164.504
325	2891.385	6134.507

TABLE OF CURVES

CURVE	LENGTH	RADIUS	LONG CHORD	DELTA
C1	221.93'	433.00'	S74°39'49"E 219.51'	29°21'59"
C2	279.37'	433.00'	S32°45'19"E 274.55'	36°58'01"
C3	245.02'	333.00'	S06°48'25"W 239.53'	42°09'27"
C4	174.93'	633.00'	S56°39'45"E 174.38'	15°50'02"
C5	45.44'	50.00'	N74°46'51"W 43.89'	52°04'16"
C6	268.79'	60.00'	S27°31'22"W 94.12'	256°40'42"
C7	17.51'	50.00'	S34°10'10"E 17.42'	20°03'47"
C8	211.21'	567.00'	S54°52'21"E 209.99'	21°20'34"
C9	116.72'	333.00'	S49°26'04"W 116.12'	20°04'59"
C10	175.64'	267.00'	N40°37'48"E 172.49'	37°41'30"
C11	35.79'	50.00'	N01°16'38"E 35.03'	41°00'52"
C12	274.40'	60.00'	N68°12'56"W 90.55'	262°01'43"

TABLE OF CURVES

CURVE	LENGTH	RADIUS	LONG CHORD	DELTA
C13	35.79'	50.00'	S42°17'29"W 35.03'	41°00'52"
C14	219.06'	333.00'	N40°37'48"E 215.13'	37°41'30"
C15	343.67'	267.00'	S22°36'07"W 320.43'	73°44'52"
C16	82.10'	333.00'	S82°47'28"W 81.89'	14°07'34"
C17	35.67'	50.00'	N69°25'10"E 34.91'	40°52'10"
C18	274.40'	60.00'	N00°00'05"W 90.55'	262°01'41"
C19	36.01'	50.00'	N69°37'19"W 35.24'	41°16'08"
C20	65.31'	267.00'	S82°44'09"W 65.15'	14°00'56"
C21	480.88'	367.00'	S51°48'34"E 447.21'	75°04'30"
C22	33.15'	1233.00'	S33°37'12"W 33.15'	1°32'26"
C23	35.79'	50.00'	S36°22'40"E 35.03'	41°00'52"
C24	66.96'	60.00'	N47°50'36"W 63.54'	63°56'45"

Roosien & Associates
SURVEYING AND ENGINEERING
5055 PLAINFIELD AVE. NE
GRAND RAPIDS, MI 49525
FILE# 241151-C2
TELE. (616) 361-7220
FAX (616) 361-1822

STATE OF MICHIGAN
MICHAEL MANNING
PROFESSIONAL SURVEYOR
No. 4001051481
LICENSED PROFESSIONAL SURVEYOR

Michael Manning
AS-BUILT
MICHAEL MANNING, P.S. NO. 4001051481

JAN. 20, 2025
DATE

43 NORTH

SITE AND SURVEY PLAN

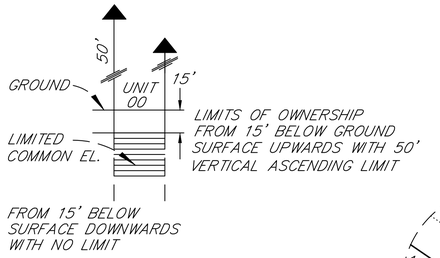

PROFILE DRAWING

ENLARGEMENT NOT DRAWN TO SCALE

TYP. UNIT SETBACK FOR UNITS 1-25
(EXCEPT AS SHOWN ON PLAN)

TYP. UNIT SETBACK FOR UNITS 26-43
(EXCEPT AS SHOWN ON PLAN)

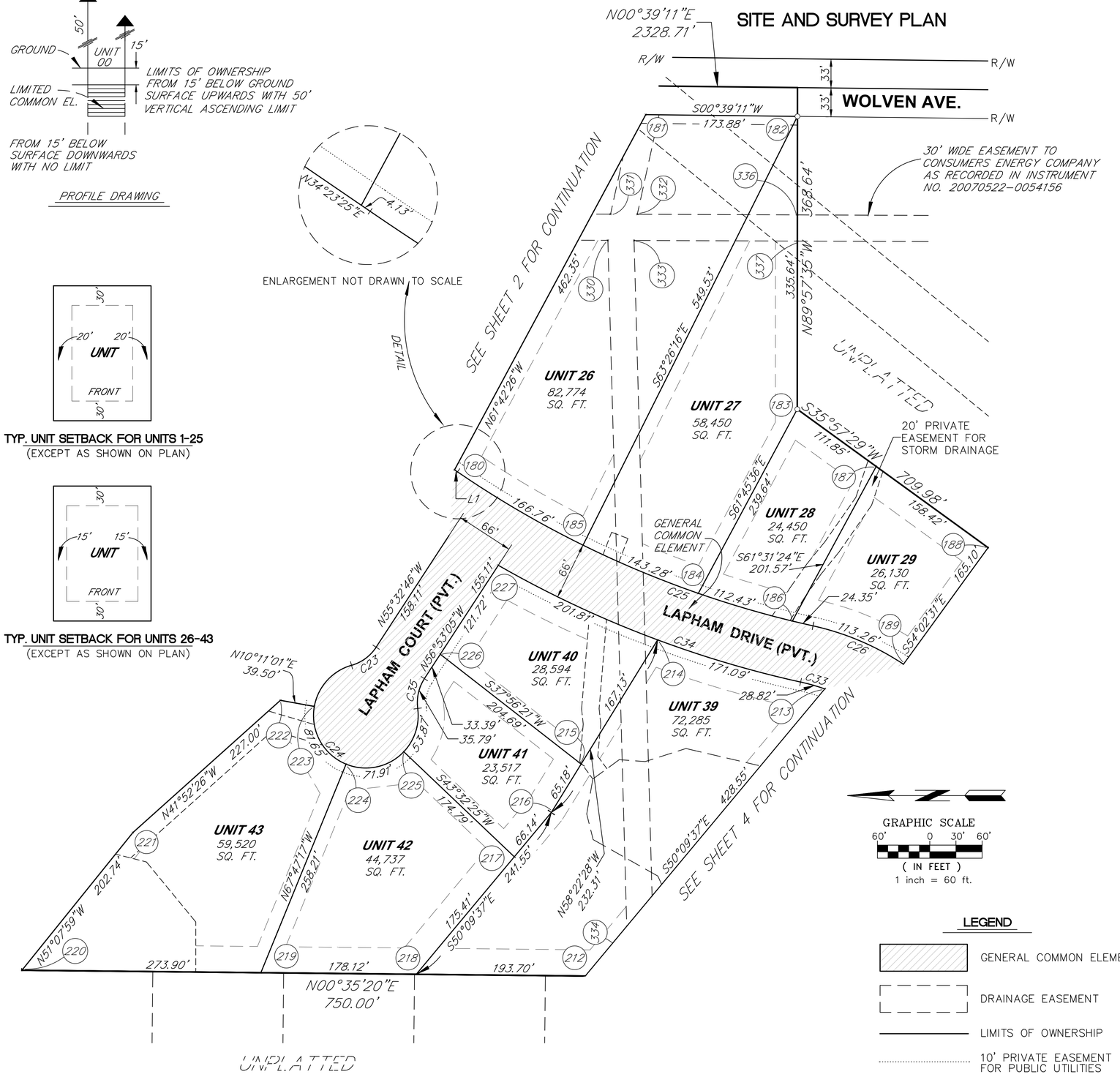

GRAPHIC SCALE
60' 0 30' 60'
(IN FEET)
1 inch = 60 ft.

LEGEND

- GENERAL COMMON ELEMENT
- DRAINAGE EASEMENT
- LIMITS OF OWNERSHIP
- 10' PRIVATE EASEMENT FOR PUBLIC UTILITIES
- SET CONCRETE MONUMENT

TABLE OF CURVES

CURVE	LENGTH	RADIUS	LONG CHORD	DELTA
C23	35.79'	50.00'	S36°22'40"E 35.03'	41°00'52"
C24	274.40'	60.00'	S33°06'55"W 90.55'	262°01'43"
C25	446.82'	1167.00'	S23°25'18"W 444.10'	21°56'15"
C26	113.26'	308.00'	N22°59'14"E 112.62'	21°04'08"
C33	88.99'	242.00'	N22°59'14"E 88.49'	21°04'08"
C34	372.90'	1233.00'	S21°07'01"W 371.48'	17°19'42"
C35	35.79'	50.00'	N77°23'31"W 35.03'	41°00'52"

TABLE OF POINTS

Point #	Northing	Easting
180	3067.541	5871.850
181	2848.394	6278.970
182	2674.530	6276.988
183	2674.766	5941.348
184	2788.154	5730.235
185	2920.265	5785.460
186	2680.343	5698.488
187	2584.232	5875.674
188	2455.998	5782.650
189	2552.945	5649.008
212	2917.699	5291.614
213	2643.153	5620.670
214	2834.827	5676.889

TABLE OF POINTS

Point #	Northing	Easting
215	2922.462	5534.582
216	2956.642	5479.080
217	2999.014	5428.294
218	3111.391	5293.605
219	3289.503	5295.435
220	3563.389	5298.250
221	3436.170	5456.102
222	3267.143	5607.622
223	3228.263	5600.638
224	3191.890	5534.482
225	3125.715	5548.698
226	3083.891	5660.428
227	3017.392	5762.378

TABLE OF LINES

LINE	BEARING	LENGTH
L1	S34°23'25"W	153.48'

TABLE OF POINTS

Point #	Northing	Easting
330	2891.811	6134.896
331	2888.761	6164.884
332	2858.075	6164.765
333	2861.796	6134.779
334	2868.601	5291.109
335	2838.582	5290.801
336	2674.609	6164.049
337	2674.630	6134.049

Roosien & Associates
SURVEYING AND ENGINEERING
5055 PLAINFIELD AVE. NE
GRAND RAPIDS, MI 49525
TELE. (616) 361-7220
FAX (616) 361-1822
FILE# 241151-C3

STATE OF MICHIGAN
MICHAEL MANNING
PROFESSIONAL SURVEYOR
No. 4001051481
LICENSED PROFESSIONAL SURVEYOR

Michael Manning
AS-BUILT
MICHAEL MANNING, P.S. NO. 4001051481

JAN. 20, 2025
DATE

43 NORTH

SITE AND SURVEY PLAN

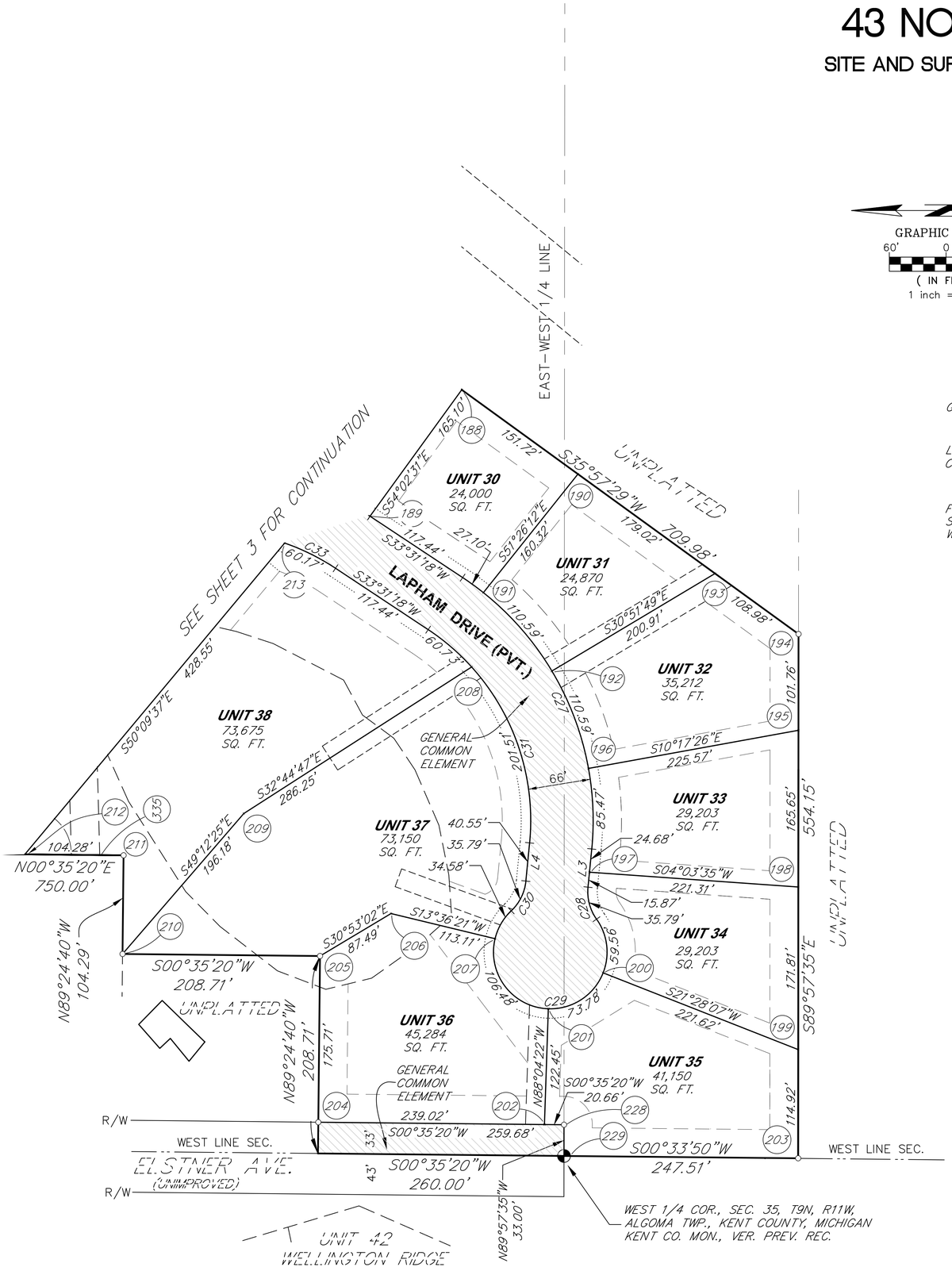

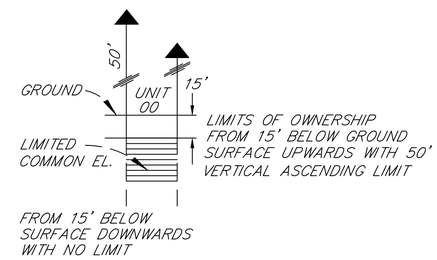

PROFILE DRAWING

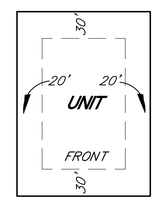

TYP. UNIT SETBACK FOR UNITS 1-25
(EXCEPT AS SHOWN ON PLAN)

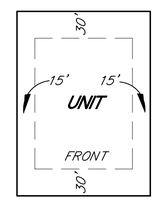

TYP. UNIT SETBACK FOR UNITS 26-43
(EXCEPT AS SHOWN ON PLAN)

TABLE OF CURVES

CURVE	LENGTH	RADIUS	LONG CHORD	DELTA
C27	333.76'	308.00'	N64°33'56"E 317.67'	62°05'15"
C28	35.79'	50.00'	S75°06'08"W 35.03'	41°00'52"
C29	274.40'	60.00'	S05°36'33"W 90.55'	262°01'43"
C30	35.79'	50.00'	S63°53'01"E 35.03'	41°00'52"
C31	262.24'	242.00'	N64°33'56"E 249.60'	62°05'15"

TABLE OF POINTS

Point #	Northing	Easting
188	2455.998	5782.650
189	2552.945	5649.008
190	2333.190	5693.562
191	2433.127	5568.208
192	2360.743	5485.379
193	2188.285	5588.445
194	2100.072	5524.454
195	2100.144	5422.692
196	2322.082	5382.397
197	2321.015	5272.706
198	2100.260	5257.039
199	2100.381	5085.226
200	2306.627	5166.339

TABLE OF POINTS

Point #	Northing	Easting
201	2364.482	5128.332
202	2368.600	5005.955
203	2100.462	4970.305
204	2607.607	5008.412
205	2605.801	5184.112
206	2530.716	5229.021
207	2420.780	5202.413
208	2445.571	5489.621
209	2686.329	5334.781
210	2814.500	5186.258
211	2813.428	5290.542
212	2917.699	5291.614
213	2643.153	5620.670

TABLE OF LINES

LINE	BEARING	LENGTH
L3	N84°23'27"W	40.55'
L4	S84°23'27"E	40.55'

LEGEND

- GENERAL COMMON ELEMENT
- DRAINAGE EASEMENT
- LIMITS OF OWNERSHIP
- 10' PRIVATE EASEMENT FOR PUBLIC UTILITIES
- SET CONCRETE MONUMENT

Roosien & Associates
SURVEYING AND ENGINEERING
5055 PLAINFIELD AVE. NE TELE. (616) 361-7220
GRAND RAPIDS, MI 49525 FAX (616) 361-1822
FILE# 241151-C4

Michael Manning
AS-BUILT
MICHAEL MANNING, P.S. NO. 4001051481

JAN. 20, 2025
DATE

43 NORTH

UTILITY AND EASEMENT PLAN

BENCHMARK NO. 1 ELEV. = 853.30
6" SPIKE IN THE SW SIDE OF P.POLE
LOCATED 52' SOUTH AND 108' EAST
OF WEST CORNER OF UNIT 26
(NAVD 88 DATUM)

BENCHMARK NO. 2 ELEV. = 879.03
TOP OF MAG NAIL IN THE SW CORNER
OF CONCRETE MAILBOX PAD LOCATED
15' SOUTH AND 165' WEST OF THE
INTERSECTION OF WOVEN AVE. AND
HOPEWELL DR. (NAVD 88 DATUM)

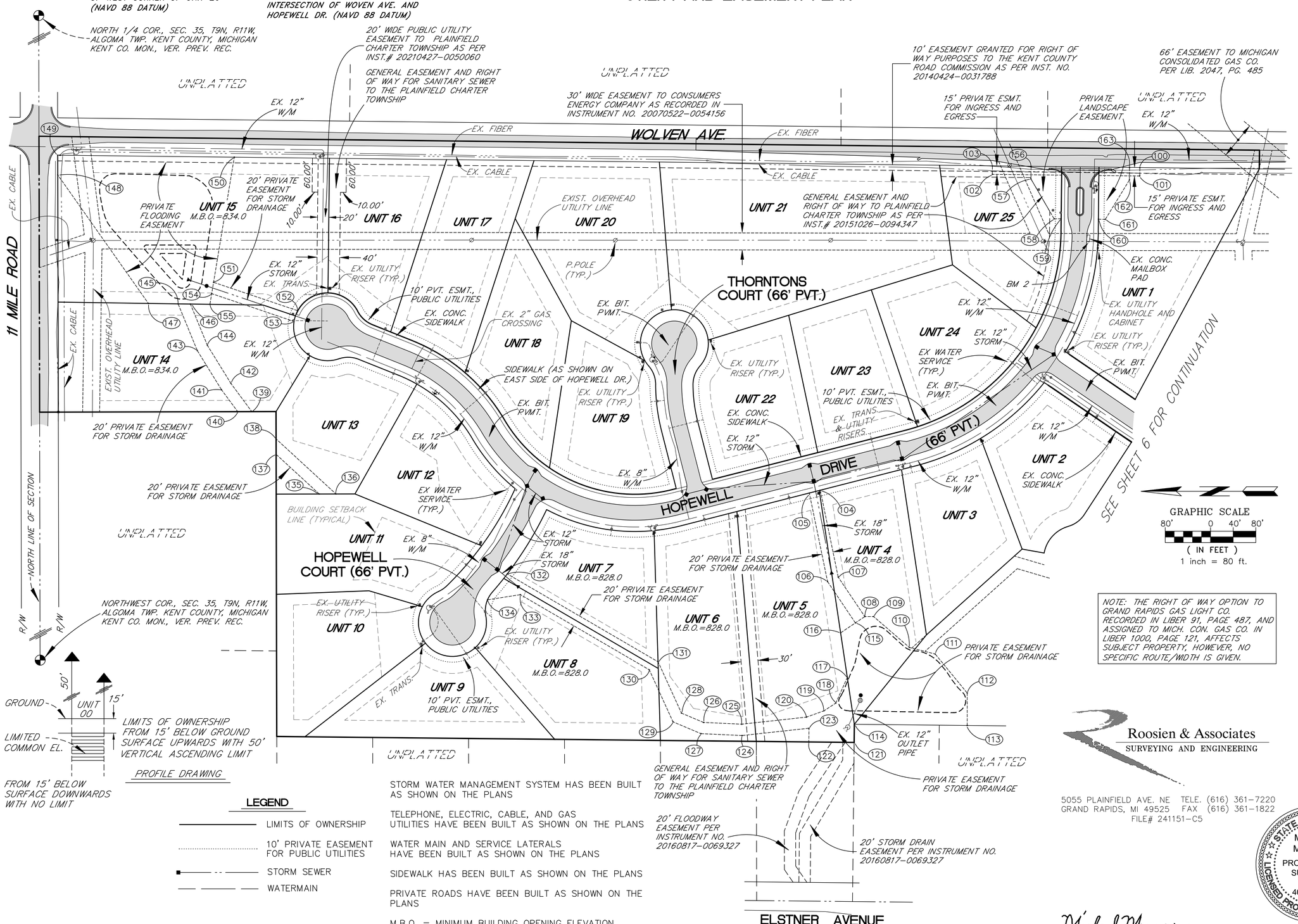

GRAPHIC SCALE
80' 0 40' 80'
(IN FEET)
1 inch = 80 ft.

NOTE: THE RIGHT OF WAY OPTION TO GRAND RAPIDS GAS LIGHT CO. RECORDED IN LIBER 91, PAGE 487, AND ASSIGNED TO MICH. CON. GAS CO. IN LIBER 1000, PAGE 121, AFFECTS SUBJECT PROPERTY, HOWEVER, NO SPECIFIC ROUTE/WIDTH IS GIVEN.

LEGEND

- LIMITS OF OWNERSHIP
- 10' PRIVATE EASEMENT FOR PUBLIC UTILITIES
- STORM SEWER
- WATERMAIN

STORM WATER MANAGEMENT SYSTEM HAS BEEN BUILT AS SHOWN ON THE PLANS

TELEPHONE, ELECTRIC, CABLE, AND GAS UTILITIES HAVE BEEN BUILT AS SHOWN ON THE PLANS

WATER MAIN AND SERVICE LATERALS HAVE BEEN BUILT AS SHOWN ON THE PLANS

SIDEWALK HAS BEEN BUILT AS SHOWN ON THE PLANS

PRIVATE ROADS HAVE BEEN BUILT AS SHOWN ON THE PLANS

M.B.O. = MINIMUM BUILDING OPENING ELEVATION

TABLE OF COORDINATES

PT#	NORTHING	EASTING
100	3059.258	6281.374
101	3059.429	6266.375
102	3319.752	6269.343
103	3319.581	6284.342
104	3623.518	5711.548
105	3642.918	5706.597
106	3610.716	5550.284
107	3591.924	5558.185
108	3544.961	5488.464
109	3529.326	5488.491
110	3466.205	5433.867
111	3420.676	5422.345
112	3364.141	5353.567
113	3364.141	5296.202
114	3563.389	5298.250
115	3561.548	5477.291
116	3587.636	5459.718
117	3575.803	5380.916
118	3596.109	5335.723
119	3617.083	5322.024
120	3648.016	5310.930
121	3563.718	5266.252
122	3643.742	5267.075
123	3643.493	5291.305
124	3761.603	5278.421
125	3762.234	5298.471
126	3829.757	5301.560
127	3834.245	5281.744
128	3868.626	5317.985
129	3883.594	5302.598
130	3925.459	5394.495
131	3909.894	5408.573
132	4176.209	5563.777
133	4153.109	5527.166
134	4211.093	5518.044
135	4508.206	5704.872
136	4478.741	5704.939
137	4584.356	5774.933
138	4584.418	5802.168
139	4627.253	5850.277
140	4652.092	5850.220
141	4680.783	5888.988
142	4664.209	5900.213
143	4723.635	5958.324
144	4705.758	5967.440
145	4757.411	6040.613
146	4735.660	6040.292
147	4809.861	6041.389
148	4969.908	6268.286
149	4969.988	6303.157
150	4658.224	6299.603
151	4694.788	6078.653
152	4546.369	6028.518
153	4552.738	6009.559
154	4698.096	6058.660
155	4701.220	6039.782
156	3251.373	6283.564
157	3251.627	6261.270
158	3210.689	6190.823
159	3198.470	6190.823
160	3132.474	6190.070
161	3120.258	6189.792
162	3077.724	6259.288
163	3077.470	6281.581

Roosien & Associates
SURVEYING AND ENGINEERING
5055 PLAINFIELD AVE. NE TELE. (616) 361-7220
GRAND RAPIDS, MI 49525 FAX (616) 361-1822
FILE# 241151-C5

STATE OF MICHIGAN
MICHAEL MANNING
PROFESSIONAL SURVEYOR
No. 4001051481
LICENSED PROFESSIONAL SURVEYOR

Michael Manning
AS-BUILT
MICHAEL MANNING, P.S. NO. 4001051481

JAN. 20, 2025
DATE

43 NORTH

UTLITY AND EASEMENT PLAN

PROFILE DRAWING

TYP. UNIT SETBACK FOR UNITS 1-25
(EXCEPT AS SHOWN ON PLAN)

TYP. UNIT SETBACK FOR UNITS 26-43
(EXCEPT AS SHOWN ON PLAN)

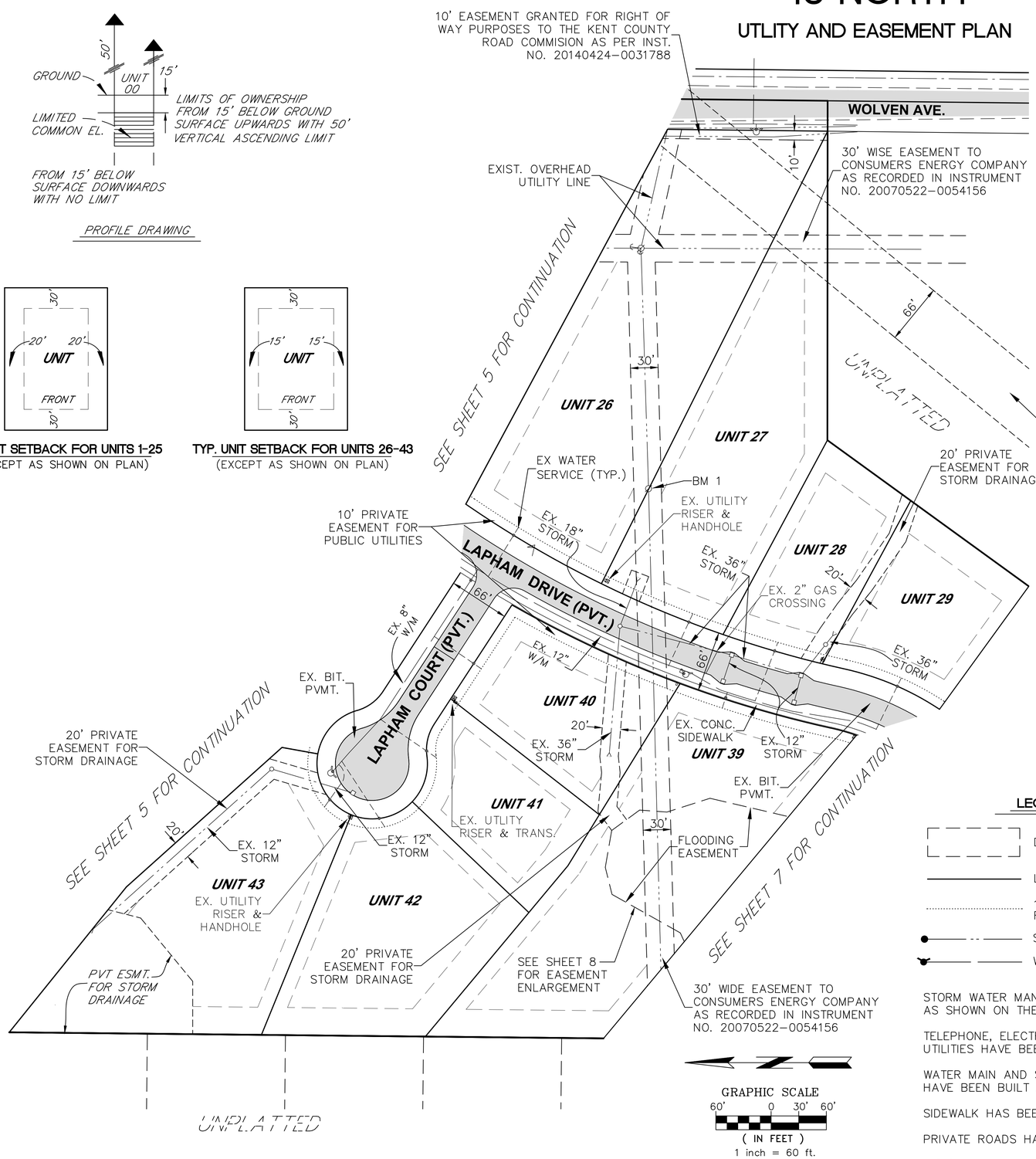

MBO TABLE	
UNIT NO.	MBO
26	851.0
27	851.0
28	850.0
29	850.0
39	845.0
40	847.0
41	849.5
42	849.0
43	849.0

TABLE OF POINTS		
Point #	Northing	Easting
252	3218.799	5556.255
253	3228.348	5579.907
254	3280.848	5595.336
255	3275.796	5573.006
256	3438.759	5426.921
257	3456.142	5431.320
258	3420.676	5422.345
259	3364.141	5353.567
260	3364.141	5296.202
261	2897.353	5774.492
262	2887.547	5800.251
263	2868.856	5793.135
264	2879.113	5766.194
275	2703.438	5704.346
276	2683.053	5699.149

Point #	Northing	Easting
277	2682.739	5737.003
278	2666.109	5725.882
279	2647.795	5751.869
280	2663.749	5763.951
281	2642.991	5789.494
282	2627.007	5777.451
283	2607.588	5840.252
284	2589.527	5831.186
285	2593.546	5882.430
286	2576.568	5870.113

GRAPHIC SCALE
60' 0 30' 60'
(IN FEET)
1 inch = 60 ft.

LEGEND

- DRAINAGE EASEMENT
- LIMITS OF OWNERSHIP
- 10' PRIVATE EASEMENT FOR PUBLIC UTILITIES
- STORM SEWER
- WATERMAIN

STORM WATER MANAGEMENT SYSTEM HAS BEEN BUILT AS SHOWN ON THE PLANS

TELEPHONE, ELECTRIC, CABLE, AND GAS UTILITIES HAVE BEEN BUILT AS SHOWN ON THE PLANS

WATER MAIN AND SERVICE LATERALS HAVE BEEN BUILT AS SHOWN ON THE PLANS

SIDEWALK HAS BEEN BUILT AS SHOWN ON THE PLANS

PRIVATE ROADS HAVE BEEN BUILT AS SHOWN ON THE PLANS

M.B.O. = MINIMUM BUILDING OPENING ELEVATION

Roosien & Associates
SURVEYING AND ENGINEERING
5055 PLAINFIELD AVE. NE TELE. (616) 361-7220
GRAND RAPIDS, MI 49525 FAX (616) 361-1822
FILE# 241151-C6

STATE OF MICHIGAN
MICHAEL MANNING
PROFESSIONAL SURVEYOR
No. 4001051481
LICENSED PROFESSIONAL SURVEYOR

Michael Manning
AS-BUILT
MICHAEL MANNING, P.S. NO. 4001051481

JAN. 20, 2025
DATE

43 NORTH

UTLITY AND EASEMENT PLAN

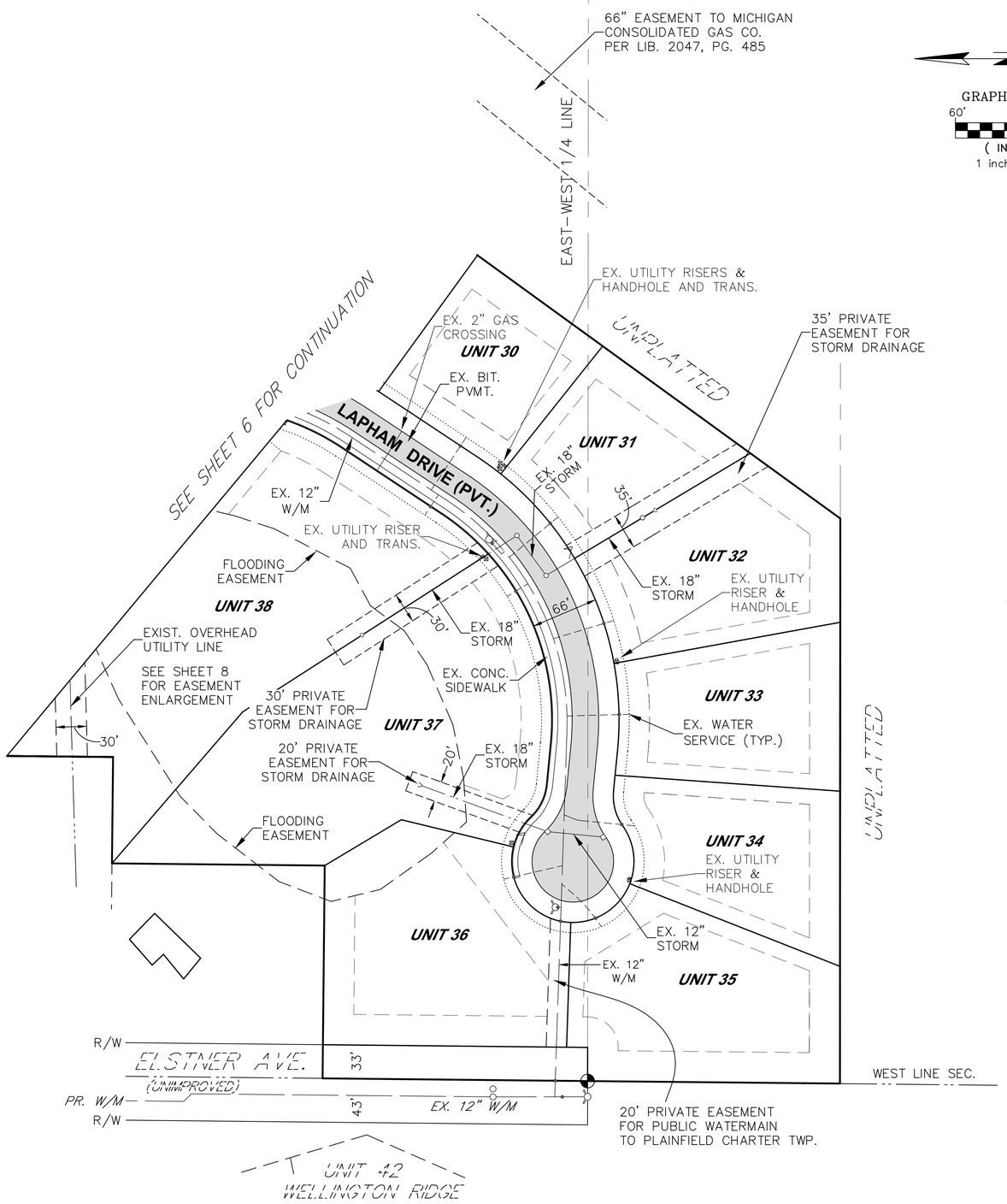

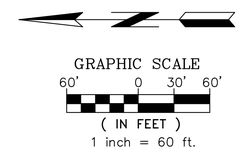

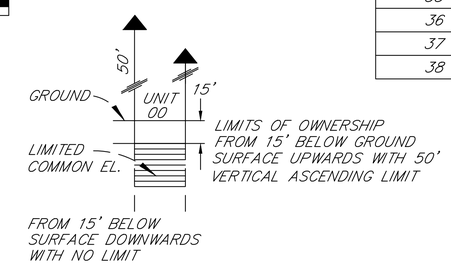

PROFILE DRAWING

MBO TABLE	
UNIT NO.	MBO
30	854.0
31	852.0
32	852.0
33	850.0
34	845.0
35	845.0
36	845.0
37	847.0
38	847.0

TABLE OF POINTS		
Point #	Northing	Easting
291	2384.355	5132.434
292	2364.482	5128.332
293	2388.605	5006.161
294	2368.600	5005.955

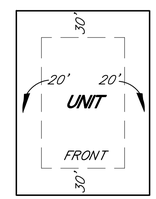

TYP. UNIT SETBACK FOR UNITS 1-25
(EXCEPT AS SHOWN ON PLAN)

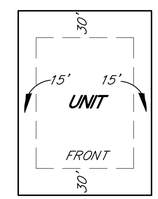

TYP. UNIT SETBACK FOR UNITS 26-43
(EXCEPT AS SHOWN ON PLAN)

LEGEND

- DRAINAGE EASEMENT
- LIMITS OF OWNERSHIP
- 10' PRIVATE EASEMENT FOR PUBLIC UTILITIES
- STORM SEWER
- WATERMAIN

STORM WATER MANAGEMENT SYSTEM HAS BEEN BUILT AS SHOWN ON THE PLANS

TELEPHONE, ELECTRIC, CABLE, AND GAS UTILITIES HAVE BEEN BUILT AS SHOWN ON THE PLANS

WATER MAIN AND SERVICE LATERALS HAVE BEEN BUILT AS SHOWN ON THE PLANS

SIDEWALK HAS BEEN BUILT AS SHOWN ON THE PLANS

PRIVATE ROADS HAVE BEEN BUILT AS SHOWN ON THE PLANS

M.B.O. = MINIMUM BUILDING OPENING ELEVATION

Roosien & Associates
SURVEYING AND ENGINEERING
5055 PLAINFIELD AVE. NE TELE. (616) 361-7220
GRAND RAPIDS, MI 49525 FAX (616) 361-1822
FILE# 241151-C7

STATE OF MICHIGAN
MICHAEL MANNING
PROFESSIONAL SURVEYOR
No. 4001051481
LICENSED PROFESSIONAL SURVEYOR

Michael Manning
AS-BUILT
MICHAEL MANNING, P.S. NO. 4001051481

JAN. 20, 2025
DATE

43 NORTH

EASEMENT ENLARGEMENT PLAN

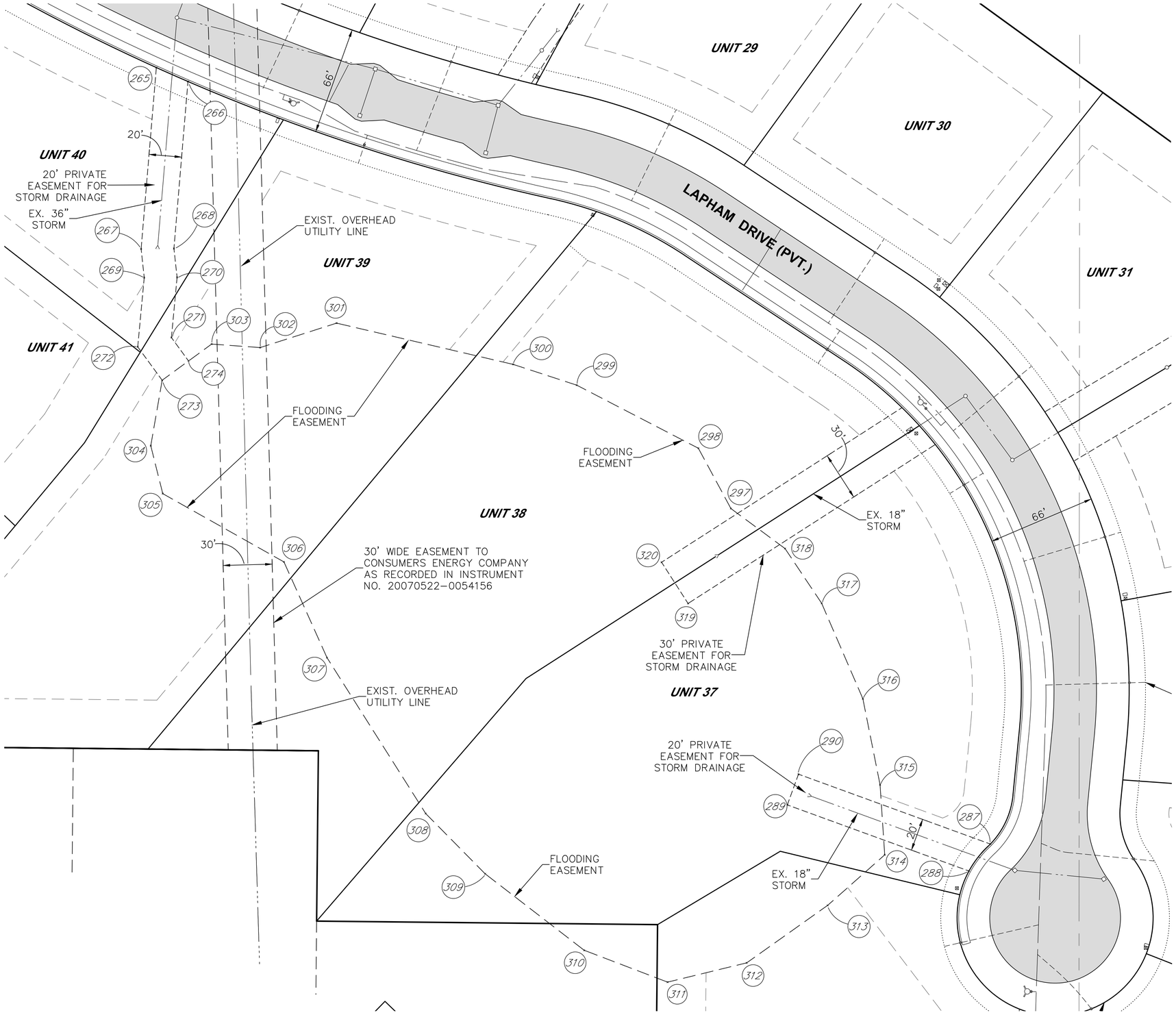

TABLE OF POINTS		
Point #	Northing	Easting
265	2912.610	5708.882
266	2893.257	5700.338
267	2921.937	5597.816
268	2901.845	5598.068
269	2920.018	5580.256
270	2899.915	5580.407
271	2903.385	5543.551
272	2924.008	5537.869
273	2909.047	5517.416
274	2892.905	5529.224
287	2402.118	5233.443
288	2415.197	5216.921
289	2526.375	5257.421
290	2519.530	5276.213
297	2560.916	5438.873
298	2580.822	5475.785
299	2655.291	5514.416
300	2694.221	5527.135
301	2802.303	5552.389
302	2849.045	5537.425

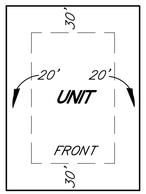

TYP. UNIT SETBACK FOR UNITS 1-25
(EXCEPT AS SHOWN ON PLAN)

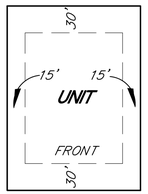

TYP. UNIT SETBACK FOR UNITS 26-43
(EXCEPT AS SHOWN ON PLAN)

GRAPHIC SCALE
30' 0 15' 30'
(IN FEET)
1 inch = 30 ft.

Roosien & Associates
SURVEYING AND ENGINEERING

5055 PLAINFIELD AVE. NE
GRAND RAPIDS, MI 49525
FILE# 241151-C8

TELE. (616) 361-7220
FAX (616) 361-1822

STATE OF MICHIGAN
MICHAEL MANNING
PROFESSIONAL SURVEYOR
No. 4001051481
LICENSED PROFESSIONAL SURVEYOR

Michael Manning
AS-BUILT
MICHAEL MANNING, P.S. NO. 4001051481

JAN. 20, 2025
DATE

43 NORTH

OVERALL SITE PLAN

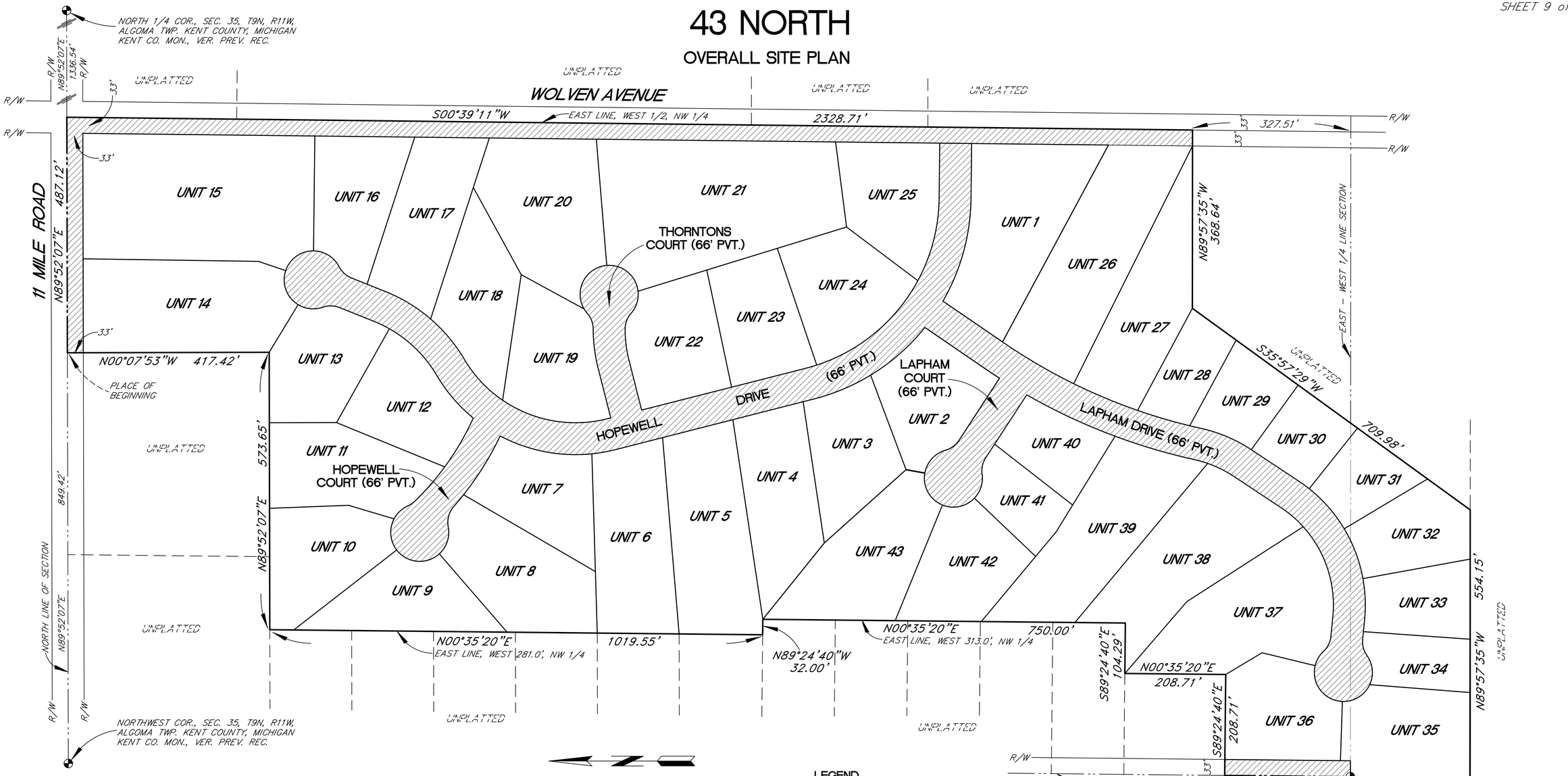

Roosien & Associates
SURVEYING AND ENGINEERING

5055 PLAINFIELD AVE. NE TELE. (616) 361-7220
GRAND RAPIDS, MI 49525 FAX (616) 361-1822
FILE# 241151-C9

Michael Manning
AS-BUILT
MICHAEL MANNING, P.S. NO. 4001051481

JAN. 20, 2025
DATE